Bridging the Gap: The Global Digital Divide (2000–2023)

Cynthia Francis

Abstract

We often talk about the internet as if it is a universal utility, but the reality is much more fragmented. Despite massive global expansion over the last two decades, a stark "Digital Divide" still dictates who gets to participate in the modern economy and who gets left behind.

To explore this, I built an interactive data visualization dashboard using Python, Streamlit, and Altair. My goal was to move past static spreadsheets and create a tool that visualizes the historical progression of internet adoption from 2000 to 2023. I focused my analysis on three core pillars: access, affordability, and equality.

Through building and interacting with this dashboard, a few major findings stood out. First, while the Global South has experienced a massive wave of connectivity since 2010, the UN's target of making 1GB of data cost less than 2% of monthly income remains a pipe dream for many developing nations. Furthermore, the data clearly shows that the digital divide isn't just geographic, it's also demographic. In several regions, a stubborn gender gap persists, with male internet access heavily outpacing female access.

1 Introduction & Initial Idea

1.1 The Concept

The initial idea for this project came from a simple question: when we say there is a "digital divide," what does that actually look like on a global scale? It is easy to find articles talking about internet inequality, but I wanted to see the raw numbers for myself. I wanted to build something that would let a user physically drag a slider and watch the change over time.

1.2 Defining the Three Pillars

"Internet inequality" is a massive, somewhat vague topic. Early in my brainstorming phase, I realized I couldn't just plot "internet users." I needed to break the problem down into logical, measurable questions, so I settled on three specific pillars:

1. **Access:** Is the country actually online? What percentage of the population uses the internet?
2. **Affordability:** Even if the infrastructure exists, can average citizens afford it based on their local economy?
3. **Equality:** Is the internet equally accessible to both men and women, or does a demographic divide exist within the geographic one?

1.3 Target Audience

I designed this dashboard with policymakers, researchers, and data journalists in mind. I wanted the UI to be clean and intuitive enough that someone without a data science background could easily spot macro-economic trends, identify failing regions, and understand the real-world impact of data pricing.

2 Data Foundation

2.1 Sourcing the Data

To build a comprehensive timeline, I needed robust, historical data. I sourced my macro-level metrics—GDP per capita, overall internet usage, and gender-specific internet usage—from World Bank Open Data. For the affordability metric, I needed granular pricing data, which I sourced from a comprehensive Kaggle dataset originally compiled by Best Broadband Deals, detailing the historical cost of 1GB of mobile data across the globe.

2.2 Data Engineering & Cleaning Challenges

The data engineering phase was the most challenging part of this project. Getting the World Bank data to match with the Kaggle pricing data required several strict cleaning steps.

The first major hurdle was dealing with mismatched country names. The pricing dataset used colloquial names (like "Russia" or "South Korea"), while the World Bank uses strict formal designations ("Russian Federation" or "Korea, Rep."). I had to manually build a `country_fixes` dictionary in Python to standardize nearly 20 mismatched countries so the eventual merge wouldn't drop crucial data.

The second, and much larger, challenge was reshaping the pricing data. The Excel file imported was formatted in a "wide" structure, where each year of pricing had its own dedicated column. Because the World Bank data was organized chronologically by year, simply merging the two would have broadcasted a single year's price across a country's entire 20-year history, completely ruining the historical affordability analysis.

To solve this, I utilized Pandas. I isolated the historical pricing columns, used a Regex function to extract the exact 4-digit year from the messy column headers,

and applied the `pd.melt()` function. This transformed the wide pricing data into a "long" format. Finally, because the two datasets used completely different country code formats (2-letter vs. 3-letter codes), I bypassed the codes entirely and executed a multi-key merge on both the `Country Name` and the `Year`. This locked the data perfectly into place, ensuring that the yearly prices attached exclusively to corresponding internet usage and creating a foundation for the Streamlit dashboard.

3 Design Process: From Concept to Final Dashboard

The design process to create this dashboard (Figure 3) involved significant trial and error. For almost every visualization, my first idea ended up being discarded because it either overwhelmed the user or failed to tell a clear story. Here is how the three main visualizations evolved.

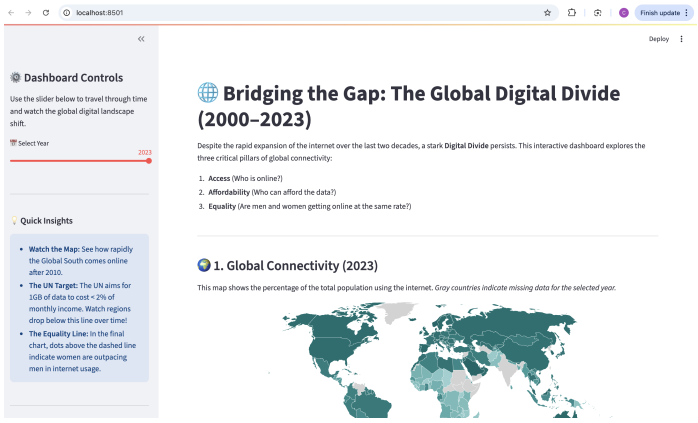

3.1 Visualization 1: Global Connectivity (Access)

Ranking all 190+ countries by internet usage on a single axis is visually unfeasible. Besides, a bar chart completely fails to show geographic clustering or regional disparities.

For this reason, I decided to pivot entirely and build an interactive **Choropleth Map** (as shown in Figure 3.1). By mapping internet usage percentages to a color gradient and adding a time slider for the years 2000–2023, the visualization transformed from a static ranking into a dynamic story. Hovering over any country instantly reveals its name and exact usage percentage for that given year. The user can watch the "wave" of connectivity spread across the Global South over the two decades.

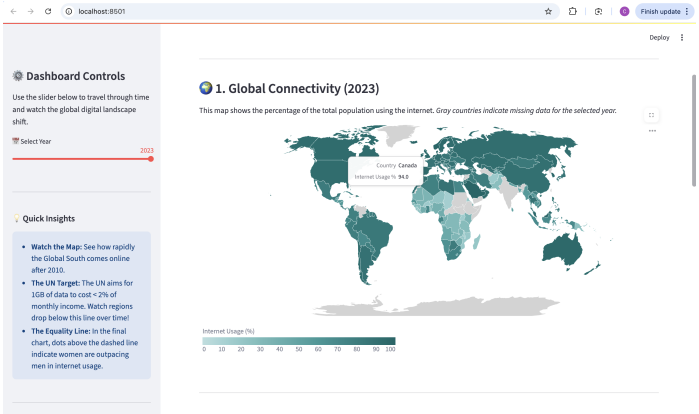

3.2 Visualization 2: The Affordability Crisis

For the affordability pillar, my first draft was a multi-line chart tracking the raw cost of 1GB of data over time for every country or region. The lines were tangled and unreadable. Even worse, I realized that plotting raw cost was misleading. A $5 data plan is cheap for a citizen in France, but financially crippling for a citizen in Malawi. The cost needed macroeconomic context.

To solve this, I switched to a **Log-Scale Scatter Plot**, plotting GDP per Capita on the X-axis against the percentage of monthly income required to buy 1GB of data on the Y-axis.

This chart (Figure 3.2 required the most design refinement. First, I added a dashed red **UN 2% Affordability Target Line**[1] to give the data an immediate pass/fail benchmark. Then, I ran into a massive technical glitch: because I was using a logarithmic scale in Altair, drawing an infinite horizontal line caused the line to physically disappear or jump around every time the user moved the year slider. To fix this, I had to mathematically calculate the global minimum and maximum GDP across all 20 years in the background, and use those fixed variables to explicitly lock the X-axis frame in place. Finally, I shrank the bubble sizes and added crisp white borders to prevent overlapping data points from looking like a messy, unreadable blob.

[1] The UN Broadband Commission for Sustainable Development established this baseline, often called the "1 for 2" target, which dictates that 1GB of mobile broadband data should cost less than 2% of a country's average monthly Gross National Income (GNI) per capita. Source: International Telecommunication Union (ITU).

3.3 Visualization 3: Male vs. Female Access (Equality)

When trying to visualize the gender gap, my first instinct was to build a **Dumbbell Plot**, showing two connected dots (male usage and female usage) for each region. While dumbbell plots are technically great for showing the *size* of a gap, I found they make it surprisingly difficult to quickly spot *who* is actually leading in that gap across multiple regions. The cognitive load was too high; users had to read individual tooltips to figure out which dot was which.

I abandoned the dumbbell plot and switched to a **Comparative Scatter Plot divided by a 1:1 Equality Line** (Figure 3.3). I plotted Male Usage on the X-axis, Female Usage on the Y-axis, and drew a dashed diagonal line perfectly through the center. This design choice reduced the cognitive load to zero. Users instantly know that any dot sitting exactly on the line represents perfect gender equality. Any dot falling *below* the line indicates men have more access, and any dot *above* the line indicates women are outpacing men.

3.4 UI & Dashboard Layout Decisions

Beyond the individual charts, I wanted the entire application to feel like a cohesive, professional tool, so I designed a dedicated **Sidebar Control Center** on the left of the screen. Instead of putting the year slider and text explanations directly above the charts, moving them to the sidebar kept the main canvas dedicated purely to data exploration, as shown in Figure 3.4. I also added interactive, clickable legends to the scatter plots, allowing users to click on a specific continent to fade out the rest of the world and focus their analysis on a single region.

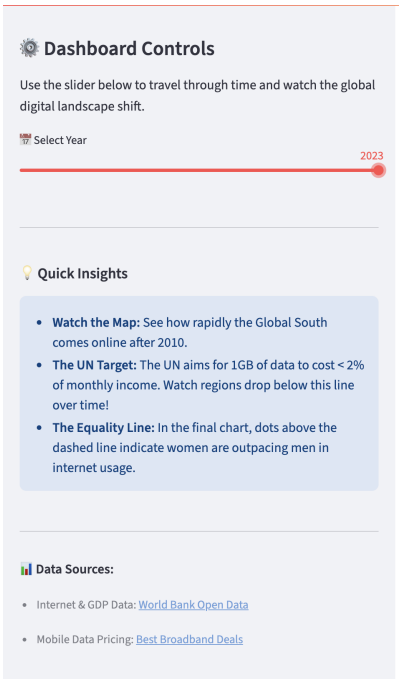

4 Key Insights & Findings

Building the dashboard and refining the UI was only half the objective; the ultimate goal was to actually use the tool to understand the Global Digital Divide. Once the application was running smoothly, three major insights emerged from the visualizations.

4.1 The Access Boom

When dragging the time slider on the Choropleth Map back to the year 2000, the visual is stark: the internet was almost exclusively a luxury of the Global North (North America and Western Europe). However, between 2010 and 2015, the map shows a massive, rapid explosion of connectivity across the Global South.

South America and large parts of Asia turn dark blue almost simultaneously. This timeframe directly correlates with the global rollout of cheap smartphones and 3G/4G mobile broadband. The dashboard made it clear that developing nations didn't necessarily slowly lay down fiber-optic cables like the US or Europe; they could have instead leapfrogged wired infrastructure and went straight to mobile internet.

4.2 The Affordability Bottleneck

While the map shows people getting online, the Log-Scale Scatter Plot reveals a harsh economic reality: the internet is still prohibitively expensive for billions of people.

When looking at the 2023 data against the UN's 2% Affordability Target line, almost all of Western Europe, North America, and Eastern Asia sit safely at the bottom of the chart (often costing less than 0.5% of GDP). However, when I used the interactive legend to isolate Sub-Saharan Africa, a completely different picture emerged. Despite raw data costs dropping over the last decade, extreme poverty and low GDP per capita mean that many countries in this region still see 1GB of data costing 5%, 10%, or even 20% of an average citizen's monthly income. The dashboard proved that access does not equal affordability.

4.3 The Persistent Gender Gap

For the 1:1 Equality Scatter Plot, when looking at the global average, the digital divide seems to be closing. Most European and North American dots hover exactly on the dashed equality line, meaning men and women use the internet at identical rates.

However, the power of this specific visualization lies in spotting the outliers. By isolating regions like the Near East and Sub-Saharan Africa, I observed a cluster of dots sinking noticeably below the dashed line. This indicates a persistent gap where male internet usage heavily outpaces female usage. Seeing this visually reinforced a crucial concept: the digital divide isn't just about a lack of cell towers or expensive data plans. In many parts of the world, it is deeply rooted in demographic, cultural, and systemic economic barriers that disproportionately keep women offline.

5 Conclusion & Future Directions

5.1 Conclusion

The initial focus of this project centered predominantly on technical execution: standardizing disparate datasets, mastering visualization libraries, and deploying a functional interactive application. However, upon the dashboard's completion, the underlying socioeconomic narratives became the true focal point.

The development of this tool underscored that the Global Digital Divide extends far beyond the basic infrastructure of cell towers and fiber optics; it is a highly complex intersection of economic disparity and demographic inequality. While the global map illustrates expanding connectivity, the affordability and gender-based metrics demonstrate that equitable access remains a significant challenge for billions. Ultimately,

this project highlights the unique efficacy of interactive data visualization: it translates macroeconomic indicators into accessible insights that static reports often fail to convey.

5.2 Scope for Future Work

While the current iteration of the dashboard successfully visualizes key historical trends, future development could expand upon this foundation across three specific dimensions.

First, regarding the **Quality of Access**, the primary metric currently measures the mere existence of internet usage rather than its quality. Integrating data on average mobile and broadband speeds would provide a more nuanced understanding, as fundamental connectivity (such as 2G networks) does not yield the same economic utility as high-speed broadband.

Second, addressing the **Rural vs. Urban Divide** is crucial for a complete analysis. National averages frequently obscure severe internal inequalities. A nation may exhibit a high overall usage rate driven predominantly by its urban centers, while rural populations remain digitally marginalized. Incorporating granular, sub-national geographic data would significantly enhance the accuracy of the spatial analysis.

Finally, there is potential for **Predictive Forecasting**. Implementing machine learning models would allow for the projection of current trends toward the 2030 horizon. This predictive capability would help identify which regions are mathematically on track to bridge the digital divide, and which are at risk of systemic, long-term exclusion.

References

Best Broadband Deals (2023). *The cost of 1gb of mobile data in 237 countries).* https://bestbroadbanddeals.co.uk/mobiles/worldwide-data-pricing/#resources. (Dataset detailing the average cost of 1GB of mobile data across global regions.)

International Telecommunication Union (2021). *2025 targets: 1 for 2 target for broadband affordability.* (UN Broadband Commission for Sustainable Development target.)

World Bank Group (2023). *World bank open data: Gdp per capita and internet usage indicators.* https://data.worldbank.org/.